Towards a Cartography of Datacentering

A Multimodal Research Agenda

Babajide Owoyele

Research Policy ECR Conference
27 April 2026

Erasmus University Rotterdam

How Big Is This?

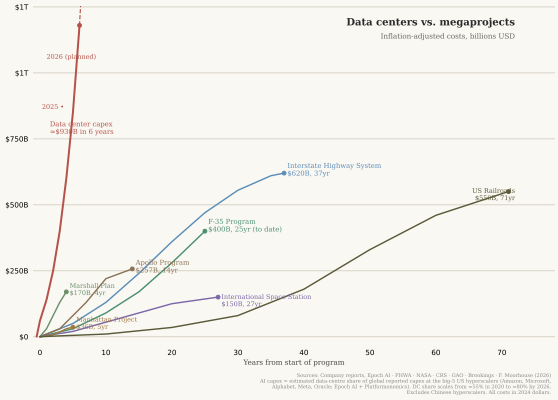

$930B in 6 years of data center capex

- 400 TWh/yr globally
- Millions L/day cooling
- Land: small-town scale
- REIT, PE, SWF capital

But: private recurring capex ≠ one-off public programme. The comparison does rhetorical work.

4,757 Papers. One Blind Spot.

Technical efficiency	≈ 279
Environmental impact	≈ 114
Socio-political	≈ 15
Innovation studies	**0**

No MLP. No TIS. No SNM.
No sociotechnical regime analysis.

372% growth in 15 years —
and the field has not noticed.

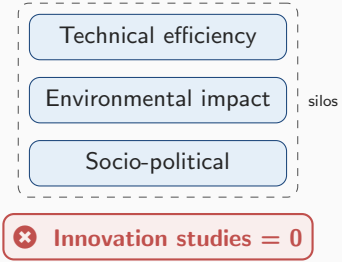

Introducing "Datacentering"

Datacentering = the active, contested, socio-material process of assembling, operating, and reproducing digital infrastructure in place

Why a gerund?

- Process, not static object
- *Who* is doing it? *For whom*?
- What is assembled — and foreclosed?

Theoretical grounding

- Orlikowski (2007): sociomaterial entanglement
- Jasanoff & Kim (2015): imaginaries co-produce facts
- "Cloud" *suppresses* what datacentering names

CAS as a Sensemaking Lens

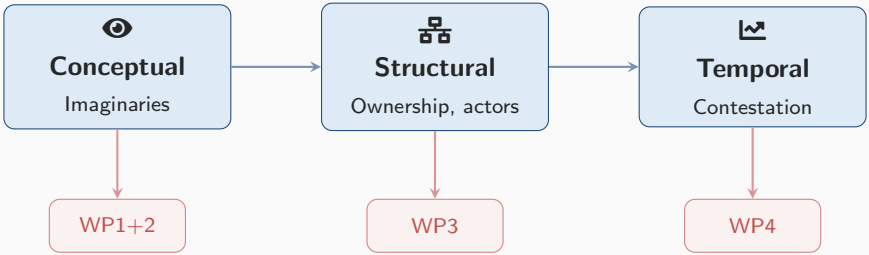

After **Phillips & Ritala (2019)** — sensemaking lens, not a formal model

Multi-actor · nonlinear · emergent

A Multimodal Research Agenda

WP	Icon	Data	Key output
1	Text NLP	Operator websites + Wikipedia	ECI imaginary
2	Satellite + CV	Sentinel-2, Landsat LST, VIIRS, corporate photos	Visual abstract
3	Network	SEC EDGAR, REIT filings, Overture Maps	Ownership gra
4	Event detection	GDELT, planning records, social media	Signal-to-respo

Strategic opacity is a *sociotechnical fact*, not a data gap. A firm that won't publish is still in a REIT filing, a satellite image, and a planning record.

WP1: The Imaginary in Numbers

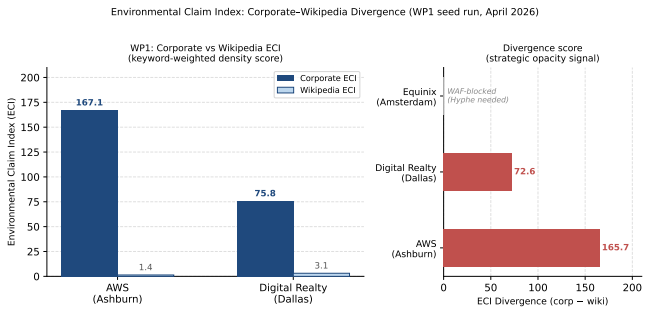

ECI divergence

AWS Ashburn: corporate ECI 120× Wikipedia

Equinix: WAF-blocked the scraper
Strategic opacity at the **technical** *layer*

High corporate ECI + low Wikipedia ECI
= placelessness production

The sustainability claim and the territorial fact are decoupled by design.

WP2: What Satellites See

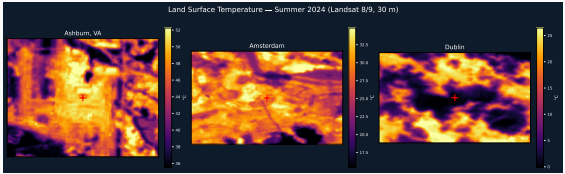

LST thermal maps — Landsat 8/9, summer 2024

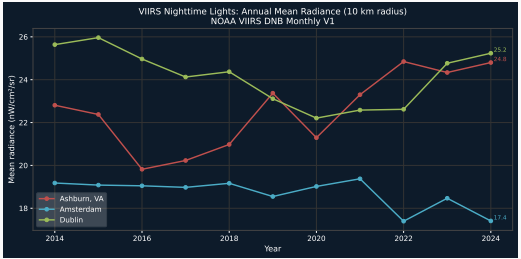

Ashburn: +8.7% radiance 2014–2024

Only jurisdiction with net growth

Amsterdam: −9.2%

LED transition — measurement confound

Isolated heat plume in exurban Virginia; thermal signature invisible to neighbours.

WP3a: Who Actually Owns This?

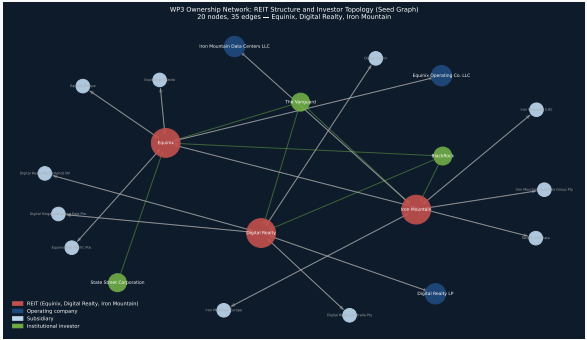

• REIT holding • operating • subsidiary • investor

REIT structure

Vanguard, BlackRock, State Street each hold 6–10% across *all three* REITs

No governance counterparty

Operating entity legally separated from asset-owning REIT

When communities contest, there is no single actor that can make a binding commitment.

WP3b: Where It Sits in the City

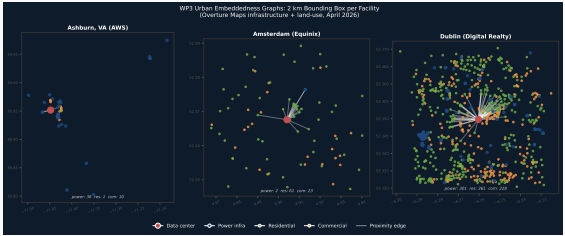

	Ashburn	Amsterdam
Power nodes	36	2
Res. zones	1	61
Adj. edges	0	16

Ashburn: dense power grid, **zero residential adjacency**

Amsterdam/Dublin: embedded in urban fabric

Spatial separation is not accidental — it is a governance design choice.

WP4: When Communities Resist

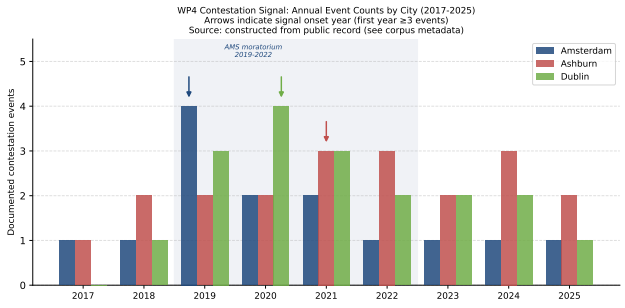

Seed corpus: **58 events**, 4 cities

Dublin: 81% negative-tone
EirGrid grid cap + An Bord Pleanála

Amsterdam moratorium:
signal onset → response < **1 year**

Ashburn: comparable signal,
zero regime response

The variable is not signal strength.

It is the structure of the receiving system.

Virginia vs Amsterdam: Same Signal, Different System

Dimension	Northern Virginia	Amsterdam
Ownership	REIT-dominated; dispersed	Mixed; operator-owned, AMS-IX coop
Counterparty	None identifiable	Municipality + named operators
Urban (2 km)	36 power / 1 res. zone	2 power / 61 res. zones
ECI divergence	+165.7 (corp 120×)	Lower; regulatory vocab absorbed
Signal	High	High
Response	**None**	**Moratorium 2019–2022**

Explanatory variable: ownership structure + presence/absence of governance counterparty

Building the Cartography Together

Why open exchange is a theoretical necessity

Datacentering is CAS-like: too large, too distributed,
too opaque for any single team.
The research commons *is* the methodological response.

What we share

- Community facility index (CC BY 4.0)
- NLP / CV / network pipelines (MIT)
- Open data, open workflows
- This paper:
  `github.com/babayyy/datacentering-cartography`

Concrete asks

- Local knowledge: disputes, unreported sites
- Company registry or REIT data access
- Methodological critique
- Replication in other languages / jurisdictions

"The cloud is not a metaphor.
It is infrastructure.
And infrastructure can be mapped."